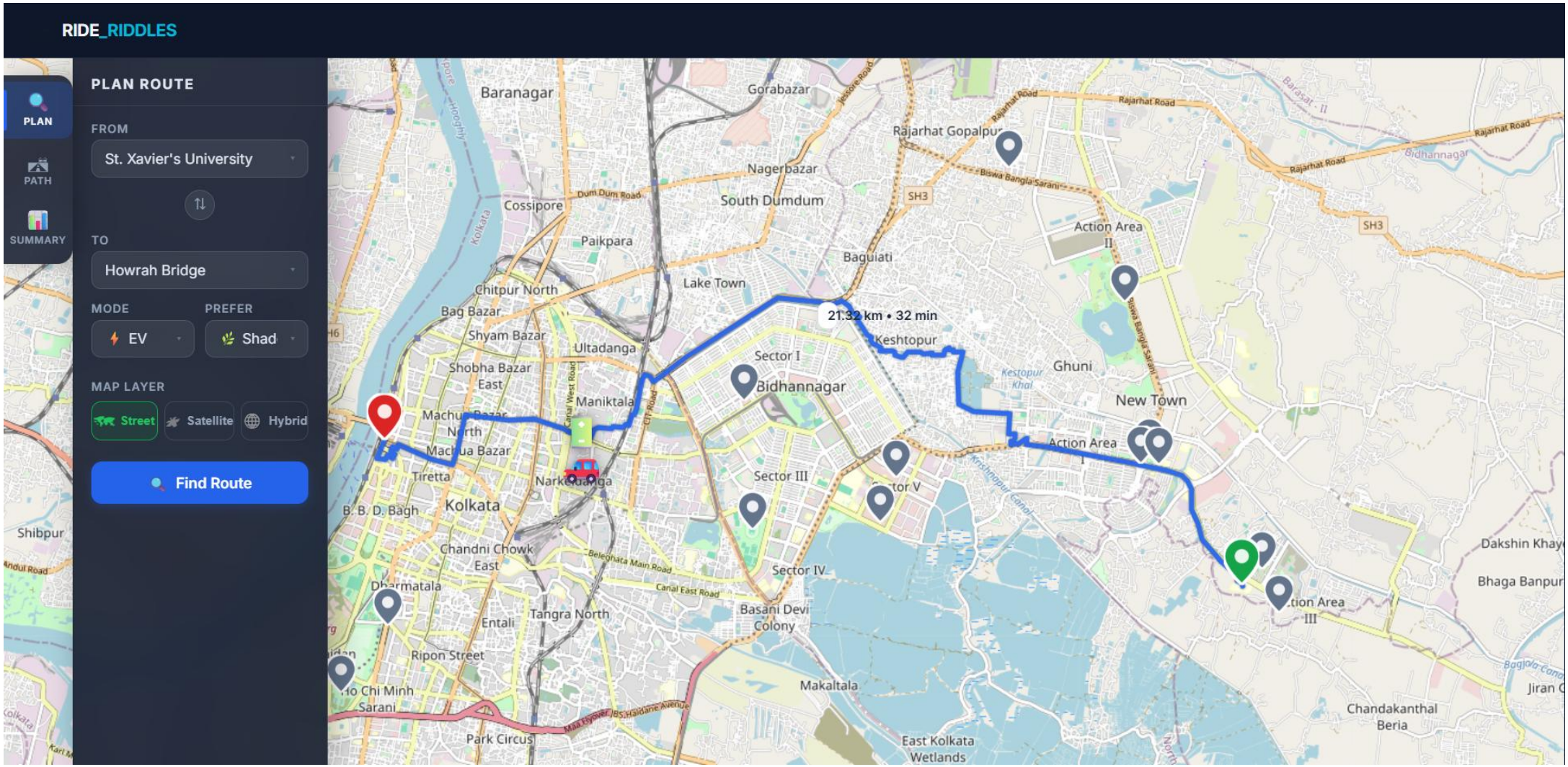
RIDE_RIDDLES
PLAN
PATH
SUMMARY
PLAN ROUTE
FROM
St. Xavier's University
TO
Howrah Bridge
MODE
EV
PREFER
Shad
MAP LAYER
Street
Satellite
Hybrid
Find Route
21.32 km • 32 min
Baranagar
Gorabazar
Rajarhat Gopalpur
Nagerbazar
South Dumdum
Cossipore
Paikpara
Baguiati
Lake Town
Chitpur North
Bag Bazar
Shyam Bazar
Ultadanga
Shobha Bazar East
Maniktala
Keshtopur
Sector I
Bidhannagar
Ghuni
New Town
Action Area II
Action Area I
Action Area III
Sector III
Sector IV
Sector V
Tiretta
Kolkata
B. B. D. Bagh
Chandni Chowk East
Dharmatala
Entali
Tangra North
Basani Devi Colony
Ripon Street
Makaltala
Park Circus
East Kolkata Wetlands
Chandakanthal Beria
Dakshin Khayd
Bhaga Banpur
Shibpur
Jiran C

RIDE_RIDDLES

PLAN

PATH

SUMMARY

PATH TYPE

6-Lane Road *EM Bypass*	100%
4-Lane Road	0%
2-Lane Road	0%
One-Way Road	0%
Narrow Alley	0%

TRAFFIC HIGH

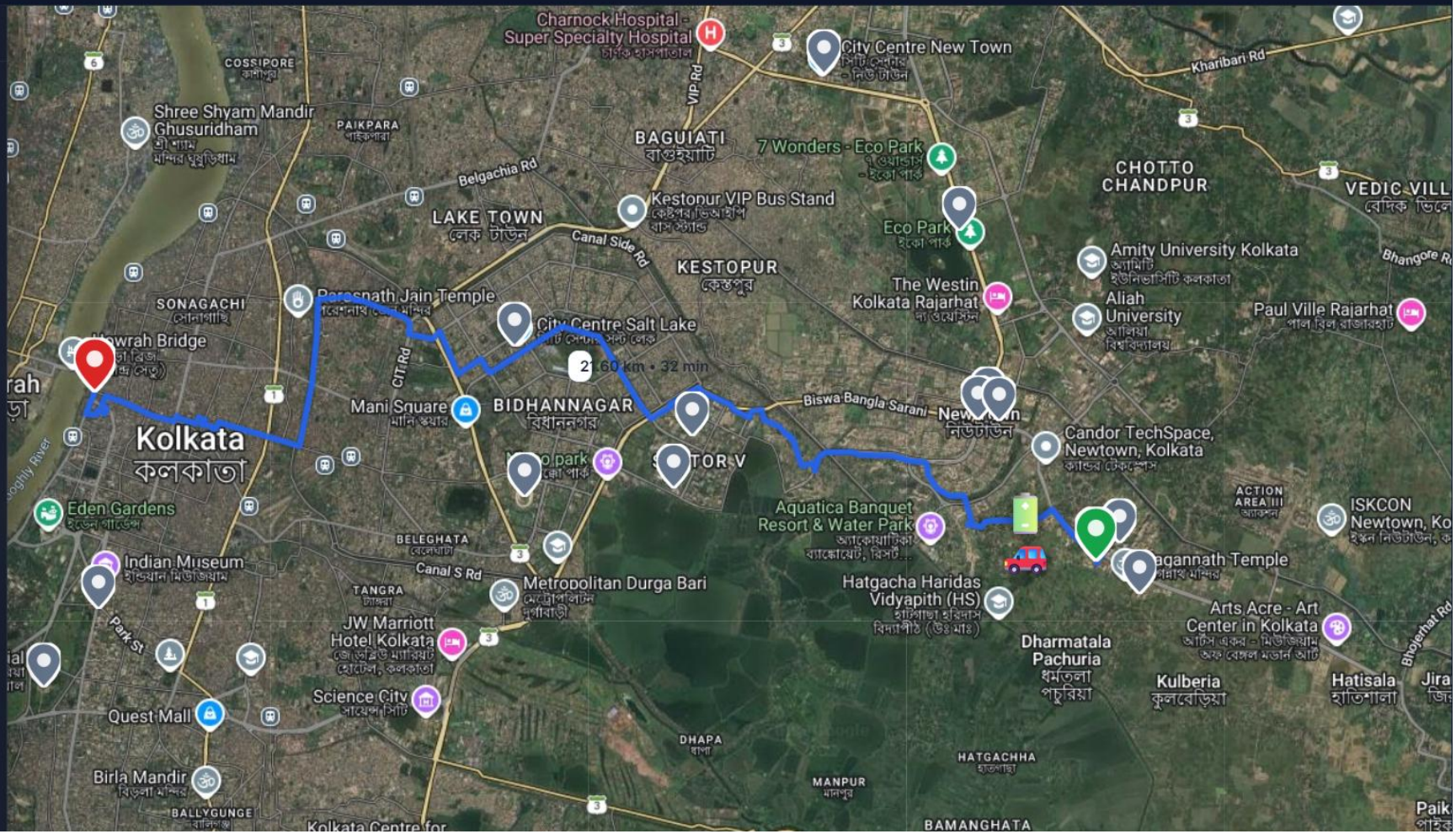

RIDE_RIDDLES

PLAN

PATH

SUMMARY

ROUTE SUMMARY

St. Xaviers University → Howrah Bridge

Alternative 1 — 25.00 km • ~41 min

ROAD QUALITY BREAKDOWN

Smooth	Shaded	Issues
76%	20%	4%

ALTERNATIVE ROUTES

Main Route
21.60 km • ~32 min

Alternative 1
25.00 km • ~41 min +9 min +3.4 km

Alternative 2
28.81 km • ~39 min +7 min +7.2 km

- Main Route
- Alternative 1
- Alternative 2
- Start
- End

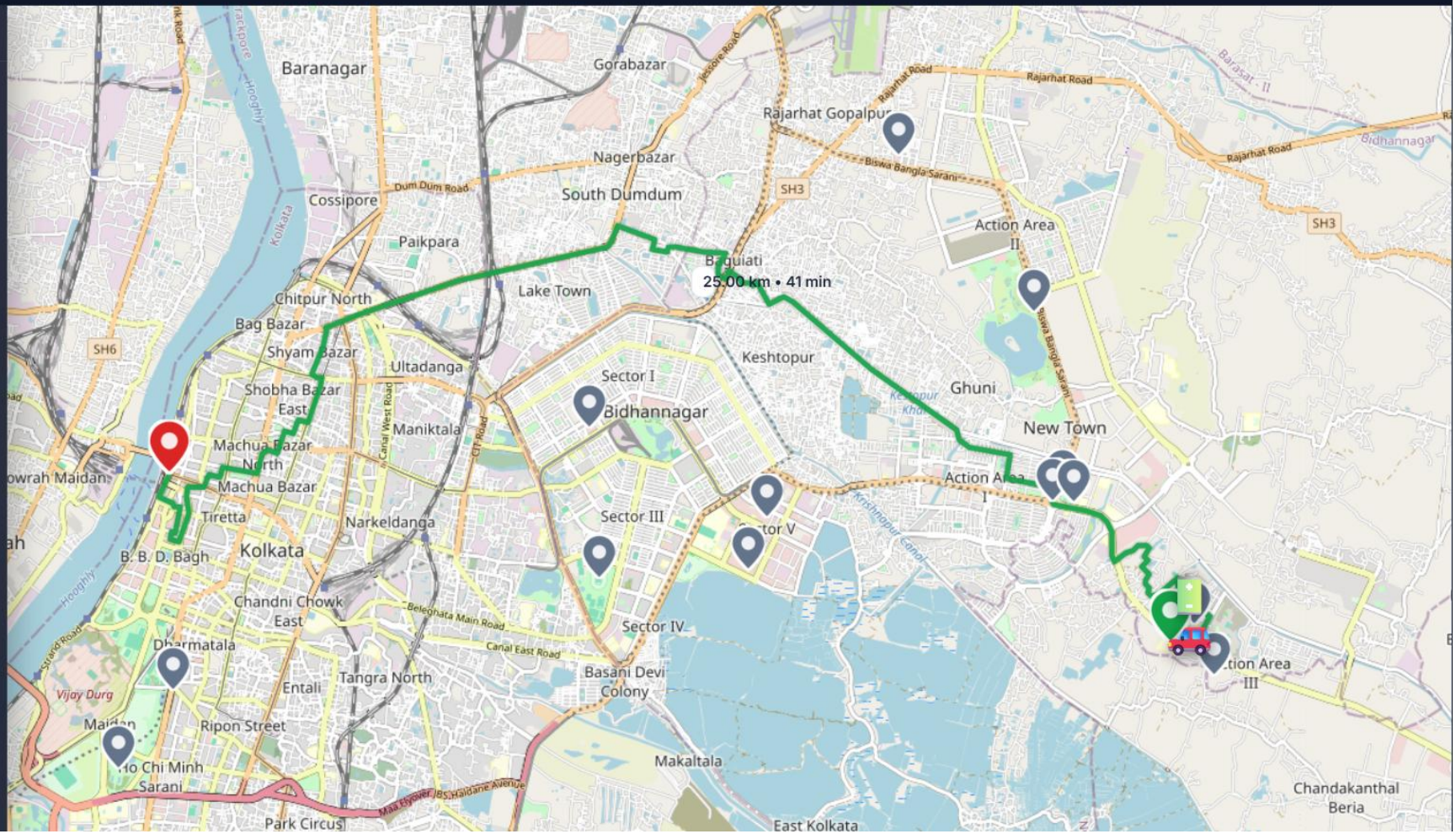

RIDE_RIDDLES

PLAN

PATH

SUMMARY

ROUTE SUMMARY

St. Xaviers University → Howrah Bridge

Alternative 2 — 28.81 km • ~39 min

ROAD QUALITY BREAKDOWN

Smooth	Shaded	Issues
74%	24%	2%

ALTERNATIVE ROUTES

Main Route
21.60 km • ~32 min

Alternative 1
25.00 km • ~41 min +9 min +3.4 km

Alternative 2
28.81 km • ~39 min +7 min +7.2 km
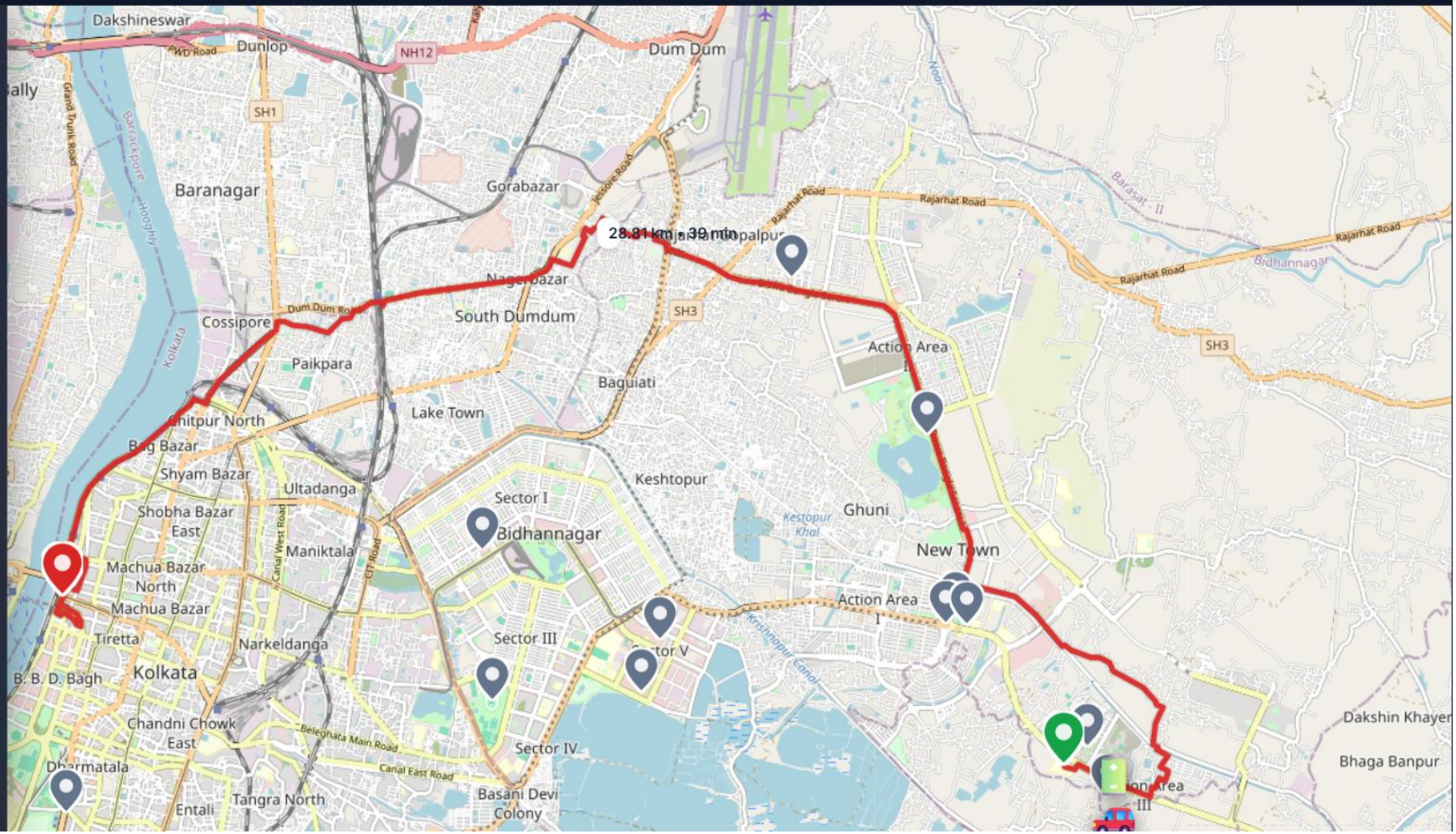
- Main Route
- Alternative 1
- Alternative 2
- Start
- End